Proyan (প্রয়ান) PRD

Product Manager	**Ragib Ahsan**
Stakeholders	**HDNB**

Status of PRD: Complete

About Proyan

Proyan: Solving the Urban Commuting Conundrum

Proyan, a commuting app, embarked on its journey with a clear vision: to tackle the everyday challenges faced by commuters in major cities across Bangladesh. The team behind Proyan identified a compelling problem that plagued millions of people – the inefficiencies and safety concerns associated with daily commuting. The congested streets, unpredictable traffic, and limited accessibility to vital information often turned routine commutes into arduous ordeals.

The Problem:

- **Traffic Congestion:** Bangladesh's major cities specially Dhaka grapple with persistent traffic congestion, leading to frustrating delays and fuel wastage.
- **Safety Concerns:** Commuters often find themselves in challenging situations, unsure of their safety during unexpected emergencies or when navigating unfamiliar routes.
- **Lack of Real-Time Information:** Commuters lacked access to accurate, real-time traffic updates and the ability to make informed decisions for a smoother journey.
- **Inefficient Government Interactions:** Traditional processes for vehicle-related documentation and government interactions were time-consuming and often prone to errors and delays.
- **Fragmented Commuting Experience:** Users juggled various apps for navigation, traffic updates, and vehicle maintenance management, resulting in a fragmented and less-than-optimal experience.

The Solution:
Proyan set out to provide a comprehensive digital solution that addressed these pain points and added substantial value to the commuting experience:

- **Real-Time Traffic Updates:** Proyan introduced a feature that integrated AI-driven traffic updates, providing users with accurate, real-time information on road conditions,

accidents, and congestion. This empowered users to choose the most efficient routes, saving both time and fuel.

- **User Profile Management:** The app simplified user profile management, enabling users to control personal information, payment methods, and communication preferences. This streamlined the experience by providing tailored solutions.
- **Vehicle Maintenance and Document Management:** Proyan introduced tools for tracking vehicle maintenance schedules, expenses, and government document submission. This innovation alleviated the complexities of compliance and reduced bureaucratic hurdles.
- **Intelligent Map Integration:** Proyan integrated Google Maps with AI-driven traffic data from the Proyan Community. This dynamic map provided route alternatives, traffic conditions, and incident reports, making it an all-encompassing solution.
- **Customized Route Planning**: Proyan introduced a feature that allowed users to plan customized routes, add intermediate stoppages, and checkpoints along their journeys. This feature addressed the problem of inefficient routes and allowed users to optimize their commutes.
- **E-Ticketing Option**: Proyan implemented an e-ticketing system, enabling users to purchase tickets for various modes of public transportation, including buses and trains, directly through the app. This streamlined the ticketing process and reduced the need for physical tickets.
- **Proyan Community:** The Proyan Community platform encouraged user engagement, facilitating the sharing of real-time traffic updates and collective efforts to improve the commuting experience for everyone.
- **SOS Services:** Proyan's SOS feature allowed users to call for help or access nearby police stations and emergency services during emergencies. This enhanced user safety, offering peace of mind during commutes.

Product purpose/ Objective

Simplify the process of splitting payments among multiple participants for shared expenses by offering an automated system that extracts payment information via receipt scanning and facilitates payment tracking. Improve user experience by allowing real-time notifications, payment tracking, and generating final settlement reports. Here's a detailed breakdown of the product purpose:

- ➢ **Enhancing Commuting Efficiency:** Proyan aims to simplify the daily commute for users by providing real-time traffic updates, optimal route planning, and navigation assistance. The goal is to help users reach their destinations with minimal delays and stress.

- ➢ **Prioritizing User Safety:** Safety is paramount in Proyan's mission. The app offers SOS services that allow users to quickly signal for help in emergency situations. It also

provides real-time traffic and safety updates, empowering users to make informed decisions during their journeys.

- **User Convenience and Customization:** Proyan prioritizes user convenience by offering a wide range of features that can be personalized to suit individual preferences. Whether it's managing user profiles, payment methods, or communication settings, Proyan ensures that the commuting experience is tailored to each user's needs.

- **Vehicle Maintenance and Compliance:** For users who own vehicles, Proyan assists in vehicle maintenance management. It tracks maintenance schedules, expenses, and important dates like license renewals and tax payments. This feature encourages responsible vehicle ownership and compliance with government regulations.

- **Streamlining Government Interactions:** Proyan simplifies interactions with government 0authorities. Users can access, manage, and submit official documents and licenses digitally, reducing the need for physical paperwork. This not only saves time but also promotes environmental sustainability.

- **Community Engagement:** The Proyan Community platform fosters user engagement and collaboration. Users can share real-time traffic updates, exchange commuting tips, and collectively contribute to improving the commuting experience for everyone.

- **Intelligent Map Integration:** Proyan seamlessly integrates Google Maps with AI-driven traffic updates from the Proyan Community. This dynamic map enhances route planning by providing users with alternative routes, traffic conditions, and incident reports.

Customer Survey

Count of Age Group:

Count of Occupation:

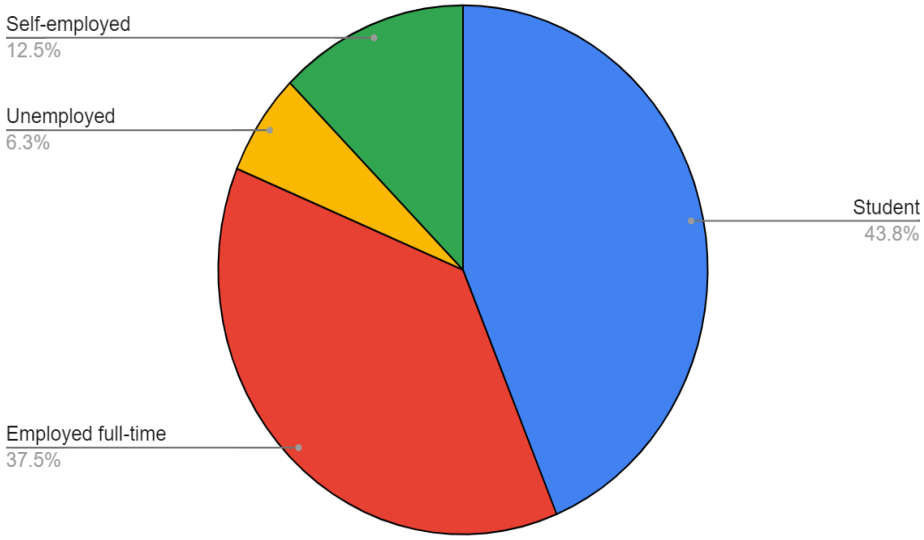

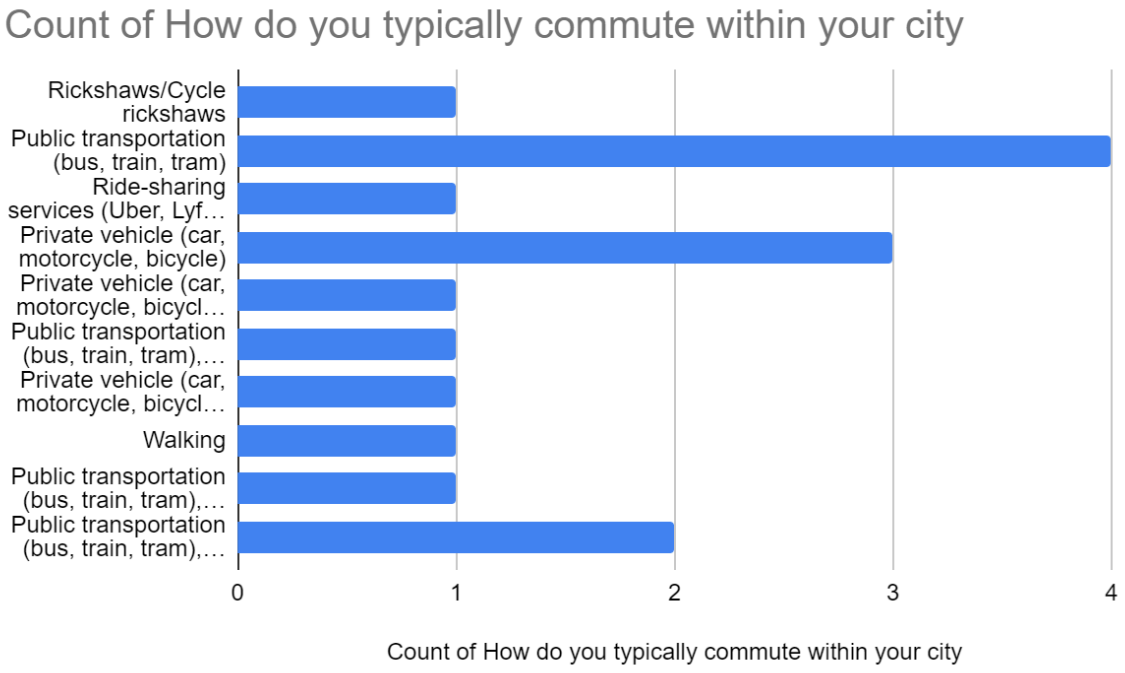
Count of How do you typically commute within your city
Rickshaws/Cycle rickshaws
Public transportation (bus, train, tram)
Ride-sharing services (Uber, Lyf…
Private vehicle (car, motorcycle, bicycle)
Private vehicle (car, motorcycle, bicycl…
Public transportation (bus, train, tram),…
Private vehicle (car, motorcycle, bicycl…
Walking
Public transportation (bus, train, tram),…
Public transportation (bus, train, tram),…
0
1
2
3
4
Count of How do you typically commute within your city

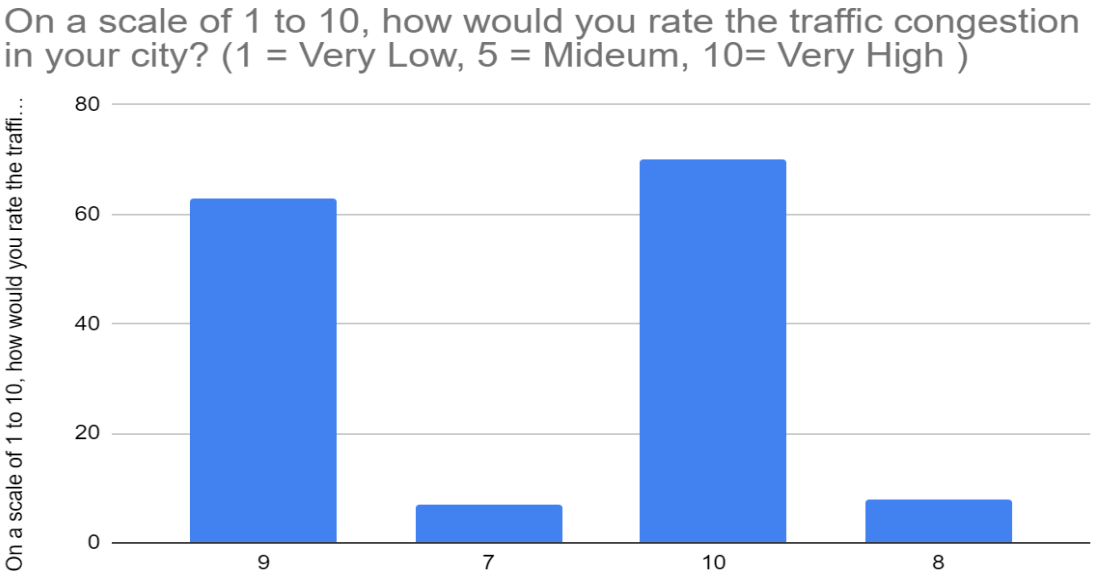
On a scale of 1 to 10, how would you rate the traffic congestion in your city? (1 = Very Low, 5 = Mideum, 10= Very High)
On a scale of 1 to 10, how would you rate the traffi…
80
60
40
20
0
9
7
10
8

What are the main challenges you face during your daily commute in your city? (Select at least three)

16 responses

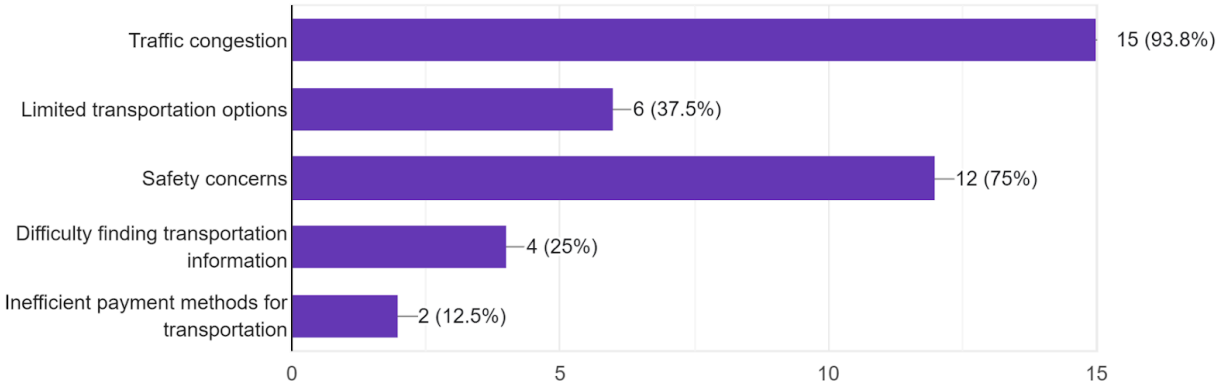

Have you ever used mobile apps or services for transportation, such as ride-sharing or public transportation apps, to assist with your daily commute?

16 responses

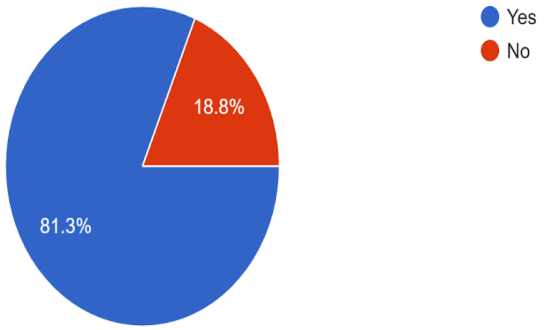

If yes, please specify which transportation apps or services you use regularly.

12 responses

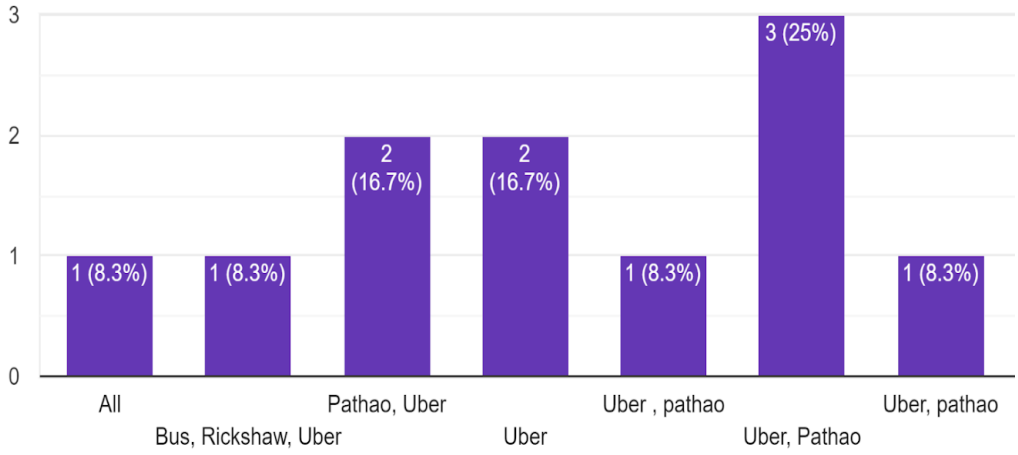

What features do you find most valuable in a transportation or commuting app? (Select atleast three)

16 responses

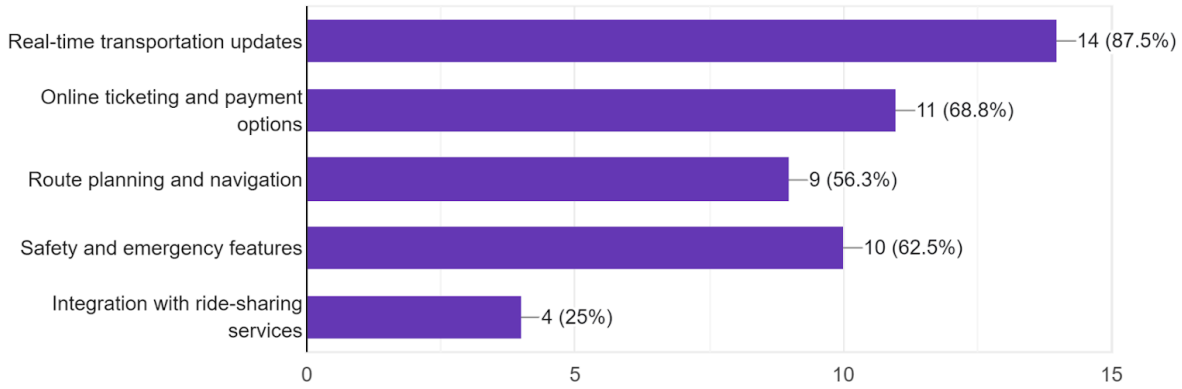

Would you be interested in an app that integrates various transportation options, provides real-time updates, and simplifies your daily commute?

16 responses

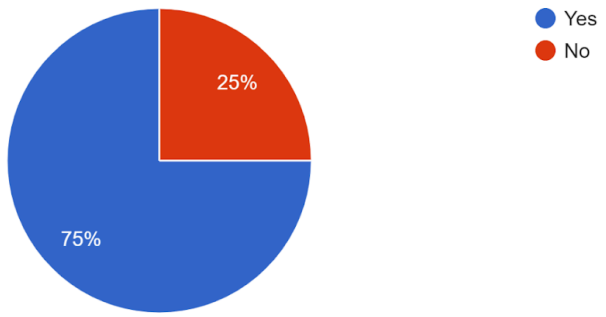

On a scale of 1 to 10, how satisfied are you with the current transportation options available for your daily commute in your city? (1 = Very Dissatisfied, 10= Very Satisfied)

16 responses

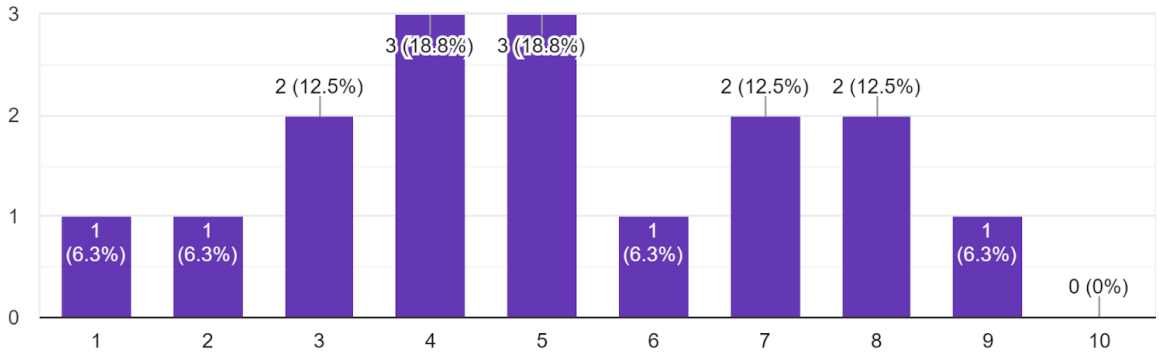

How do you currently access information about transportation delays or disruptions during your daily commute?

16 responses

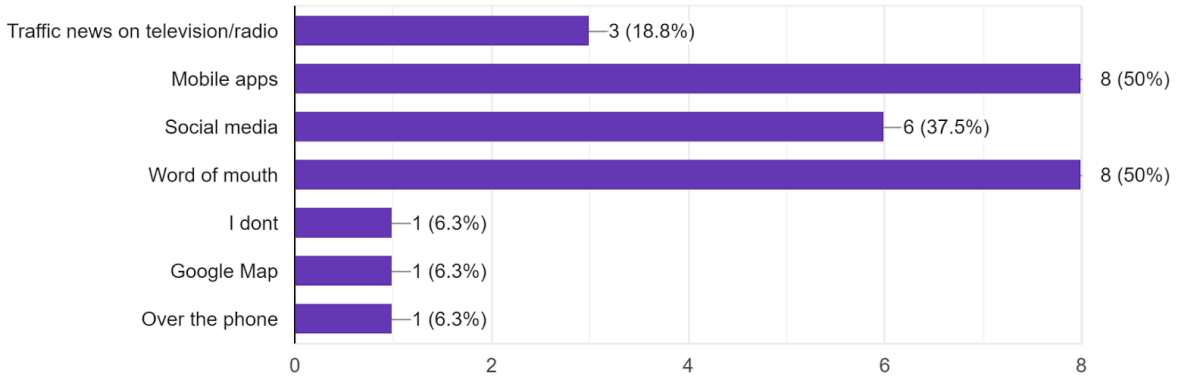

Would you be interested in receiving real-time traffic updates and alerts on your mobile device to better navigate your daily commute?

16 responses

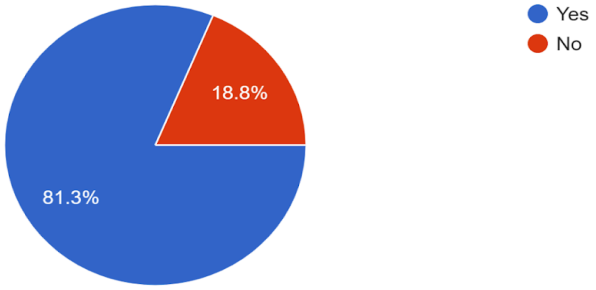

Have you ever experienced safety concerns during your daily commute, such as accidents, theft, or harassment?

16 responses

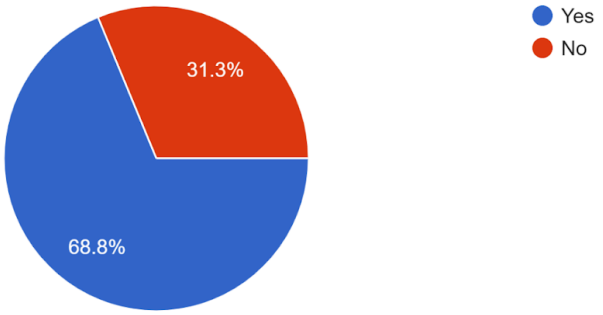

Do you currently make toll payments during your daily commute (e.g., for expressways, bridges, tunnels)?

16 responses



Product Scope

The product scope of Proyan encompasses various facets of commuting and user interaction. Here's a detailed scope outline:

- **Commuting Assistance:** Proyan provides commuters with real-time traffic updates, congestion data, and route planning capabilities. It assists users in choosing the most efficient and safe routes based on their preferences.

- **Safety and Emergency Features:** Proyan's safety features include SOS services, real-time traffic and safety updates, and quick access to nearby police stations and traffic booths in emergencies.

- **User Profile Management:** Users can manage their profiles, including personal information, payment methods, and communication preferences. This allows for a customized commuting experience.

- **Vehicle Management:** For vehicle owners, Proyan tracks vehicle maintenance, expenses, and important dates like license renewals and tax payments. This feature promotes responsible vehicle ownership.

- **Government Interactions:** Proyan simplifies interactions with government authorities by providing digital access to official documents, license renewals, tax payments, and form submissions.

- **User Community:** The Proyan Community platform fosters engagement by allowing users to share real-time traffic updates, exchange information, and collaborate to improve commuting collectively.

- **Intelligent Map Integration:** Proyan incorporates Google Maps with AI-driven traffic updates from the Proyan Community. This integration provides users with dynamic route suggestions and real-time traffic insights.

- **Privacy and Data Security:** Ensuring the privacy and security of user data and interactions is a core component of Proyan's scope. It safeguards sensitive information and adheres to data protection standards.

In summary, Proyan's product purpose revolves around enhancing the commuting experience through efficiency, safety, customization, and engagement. Its product scope encompasses a wide array of features designed to fulfill these objectives and cater to the diverse needs of its users.

Competitor Analysis

In the current scenario, The main competitors of Proyan are Pathao and Uber. As part of the competitor analysis, The SWOT analysis among Proyan, Pathao and Uber has been conducted.

Measures Taken for the aspects:

- **Strengths:** The internal advantages that Proyan possesses, including its unique features, user-centric approach, and emphasis on safety has been identified. Pathao and Uber's strengths were also analyzed.

- **Weaknesses:** The internal limitations and challenges that Proyan faces, such as limited brand recognition and potential competitive pressures has been pinpointed. Pathao and Uber's weaknesses were also assessed.
- **Opportunities**: External factors that could positively affect Proyan, such as market expansion and diversification have been analyzed. Pathao and Uber's opportunities were likewise examined.
- **Threats:** External factors that pose potential risks to Proyan, including regulatory changes, competition, and economic fluctuations. Pathao and Uber's threats were also considered.

Aspects	Proyan	Pathao	Uber
Strengths	1. Comprehensive commuting ecosystem. 2. AI-enhanced traffic updates for efficient navigation. 3. Vehicle maintenance tracking for users' convenience. 4. Government document management, reducing paperwork. 5. User-centric approach with customizable features. 6. Emphasis on safety with SOS and real-time updates. 7. Integrated payments for convenience.	1. Pioneering ride-sharing platform in Bangladesh. 2. Global presence with recognition in the region. 3. User-friendly interfaces for a smooth experience. 4. Integrated payments for convenience. 5. Safety measures to build user trust.	1. Global ride-sharing leader with brand recognition. 2. User-friendly interface for easy booking. 3. Integrated payments for convenience. 4. Safety measures to enhance user trust.
Weakness	1. Limited brand recognition compared to competitors. 2. Acquiring an initial user base in a competitive market. 3. Potential competitive pressure from established players. 4. Regulatory hurdles	1. Features may be less comprehensive compared to Proyan. 2. Limited focus on vehicle owners and maintenance. 3. Regulatory hurdles in the ride-sharing industry.	1. Features may be less comprehensive compared to Proyan. 2. Limited focus on vehicle owners and maintenance. 3. Regulatory hurdles in various global markets.

	in the ride-sharing industry.		
Opportunities	**1. Expanding in the growing Bangladesh market. 2. Diversification into additional transportation options. 3. Contributing to environmental sustainability initiatives.**	**1. Continued growth in the Bangladeshi market. 2. Diversification into additional transportation options. 3. Participation in environmental sustainability initiatives.**	**1. Continued growth in the Bangladeshi market. 2. Diversification into additional transportation options. 3. Participation in environmental sustainability initiatives.**
Threats	**1. Regulatory changes impacting the transportation industry. 2. Intense competition with other ride-sharing services. 3. Economic factors affecting user demand and spending.**	**1. Regulatory changes impacting ride-sharing operations. 2. Intense competition with both local and global players. 3. Economic factors affecting user demand and spending.**	**1. Regulatory changes impacting ride-sharing operations. 2. Intense competition with both local and global players. 3. Economic factors affecting user demand and spending.**

Key Success Factors for Proyan:

- **User-Centric Innovation:** Prioritize innovation tailored to Bangladeshi commuters' needs.
- **Comprehensive Commuting Ecosystem:** Offer a complete commuting solution.
- **AI-Powered Traffic Updates:** Deliver accurate real-time traffic information.
- **Safety and Trust:** Ensure user safety and data privacy.
- **Effective Marketing:** Build brand recognition and emphasize unique features.
- **User Engagement:** Foster an active user community for feedback**.**
- **Regulatory Compliance:** Stay informed and adapt to industry regulations.
- **Data-Driven Decisions:** Utilize user data for continuous improvement.
- **Seamless User Experience:** Provide an intuitive and consistent interface.
- **Strategic Partnerships:** Collaborate for ecosystem expansion.
- **Customer Support:** Offer responsive and helpful assistance.
- **Adaptability:** Stay flexible to market trends and user preferences.

Wireframes

Visit the following link for the wireframes
https://miro.com/app/board/uXjVNdAYg64=/?share_link_id=644766741722

Feature Lists & Definitions

Feature	Explanation	Status
Real-Time Traffic Updates	Provides users with up-to-date information on road conditions and congestion.	In Development
Route Planning	Helps users plan their routes based on real-time traffic data, optimal routes, and waypoints.	In Development
User Profile Management	Enables users to personalize their Proyan experience, manage personal information, and update preferences.	In Development
SOS Services:	Allows users to send emergency alerts and locate nearby police stations and traffic booths.	In Development
Vehicle Maintenance Management	Helps users track vehicle maintenance, expenses, license renewals, and tax payments.	In Development
Government Document Access:	Allows users to access, manage, and submit government documents and licenses digitally.	In Development
Proyan Community	Offers a platform for users to share traffic updates and engage with fellow commuters.	In Development
Map Integration:	Integrates Google Maps with AI-driven traffic updates from the Proyan Community.	In Development

Payment and Receipts:	Allows users to make payments for various services and keeps track of receipts and expenses.	In Development
Customizable Notifications:	Enables users to personalize their notification preferences.	In Development
Driving License Renewal:	Enables users to personalize their notification preferences.	In Development
Government Forms and Applications:	Allows users to submit government forms and applications digitally.	In Development
Proyan PIN and Biometric Login:	Provides secure login options for user accounts.	In Development
Help Center:	Offers support and assistance to users with FAQs, support requests, and more.	In Review
Multi platform Access (both Android & iOS)	Application for both android and iOS users	In Development

User Interview

There were 3 user interviews conducted who would be the prospective user of the Proyan app. The interviews were done in Bangla. Users were selected upon their daily mode of commute in Dhaka.

- ## Interview 1:

Q: How is your daily mode of commute in Dhaka?
A: I mostly use public transport, but I grab a ride-sharing service when things get super chaotic.

Q: What is the biggest headache in your daily commute?
A: The uncertainty of public transport schedules and navigating through traffic jams are major pain points for me.

Q: So, what would make your dream commuting app? What should it offer?
A: My dream app would give me real-time updates on transport schedules and help me avoid traffic jams when I switch to ride-sharing. I want it more convenient for my day to day use.

Q: How about sharing live traffic updates with other commuters?

A: Actually, I usually take these insights from traffic alert groups from facebook. If the community system is on the app then I will be active in this.

Q: What is the one feature that would make Proyan your go-to app?
A: If Proyan can integrate with maps and provide AI-driven traffic insights.

- ## Interview 2:

Q: Tell me about your daily mode of commute in Dhaka.
A: Yes,I use both. Public transport when it is bearable and ride-sharing when I cannot stand it.

Q: What is the most annoying part of your commute?
A: The most annoying thing for my day to day commute is unpredictable road conditions.

Q: What is on your wishlist for the perfect commuting app?
A: An app that would be able to handle all my commuting situations. I want it for both public and private modes of my day to day commute.

Q: How about sharing live traffic updates with fellow commuters?
A: I usually already get that from the Dhaka traffic Alert group on facebook. But as my previous answer, If I get all the things in one platform then it will be more convenient.

Q: Your Opinion about digital wallet integration?
A: That would be more than useful. As I said before, It will add more convenience to manage my trips with one platform. It will also help me to handle my total day to day cashless transactions.

- ## Interview 3:

Q: What is your daily mode of commute in Dhaka?
A: I mostly rely on my private vehicle. But if it is engaged for some reason, In that case I use public transport or ride sharing.

Q: What is the biggest hassle in your daily commute? Like finding alternate routes in an unknown area.
A: Since I use mostly my private vehicle, Even if the main road is clogged, sometimes finding the quickest and alternate route within the particular local area to dodge traffic jams.

Q:.What features would your ideal commuting app offer?
A: Not exactly sure about that, but something that helps people to have hasslefree journeys in this nightmare of traffic.

Q: How about sharing live traffic updates with others?
A: Not a bad idea.

Q: Since you own a personal vehicle, If the app helps you to digitally carry the documents of your vehicle and help you to maintain your vehicle, how is this option in your view?
A: Since the documents are regulatory things, if the government accepts digital modes then why not. Certainly it will reduce hassle to carry all those papers. And about maintaining the vehicle, If it helps me to lessen my maintenance related burdens then certainly it is useful for me.

User Stories

Proyan_App Download

As a new user I want to download the Proyan app from the Google Play Store or Apple App Store.

Acceptance Criteria:

- When I search for "Proyan" in the Google Play Store or Apple App Store, I should find the Proyan app listed.
- I should be able to download and install the Proyan app on my mobile device.

Proyan_User Registration, Profile Setup & Onboarding

As a new Proyan user I want to register and setup my profile.

Acceptance Criteria for User Registration:

- Open the Proyan application.
- See clear and prominent options for registration on the welcome screen.
- Registration process offers multiple convenient options, including:
    - Email registration
    - Mobile number registration with OTP verification
- **If choosing email registration:**
    - Initiate registration by clicking a "Sign Up" button or similar action.
    - Registration form includes fields for:
        - First name
        - Last name
        - Email address
        - Password (This will be used as Proyan PIN)
    - Password requirements are clearly displayed, including:
        - Minimum length requirements
        - Only Numbers
    - System validates provided email address:
        - Correct email format (e.g., example@email.com)
        - Not associated with an existing Proyan account.

    - After submitting the form, receive an on-screen confirmation message. It indicates that a verification link has been sent to the email address for account activation.
    - Receive an email containing the verification link. Verification email features:
        - Clear purpose statement (account activation)
        - Prominently displayed verification link
    - Clicking the verification link within the email:
        - Redirects to the Proyan platform
        - Confirms email address, activating the account.
- **If choosing mobile number registration:**
    - Upon entering the mobile number, receive an OTP via SMS.
    - System prompts to enter OTP on the registration page for mobile number verification.
    - If OTP is correct, the system confirms verification and allows registration.
    - Incorrect OTP entry or OTP timeout:
        - Option to request a new OTP clearly displayed.
        - Allows initiation of OTP verification process again.
    - If OTP is correct, the system confirms verification and prompts for the following:
        - Input a username. Username requirements are clearly displayed, including:
            - First name
            - Last name
        - Input a password(This will be used as Proyan PIN). Password requirements are clearly displayed, including:
            - Minimum length requirements
            - Only Numbers
- Invalid or incomplete registration information results in:
    - Clear, specific error messages next to relevant fields.
    - Guidance on correction.
- In case of issues (e.g., network errors, server unavailability)
    - User-friendly error message displayed.
    - Clear guidance on next steps provided.
- Registration process includes options to:
    - Review and accept the privacy policy
    - Review and accept the terms of service
    - Links to privacy policy and terms of service provided for easy access.
- Upon successful registration:
    - Receive an on-screen confirmation message.
    - Instructions on getting started with Proyan provided.
- If registered via email, receive a confirmation email summarizing registration details.
    - Includes a warm welcome to the Proyan platform.

Acceptance Criteria for Profile Setup with Document Submission and Payment Methods:

As a user of the Proyan platform, I want to be able to complete my profile setup, submit necessary documents, and add/manage my preferred payment methods for a seamless experience.

- **Accessing Profile Setup:**
  - After I have completed the registration for Proyan application, I will be presented with a user-friendly interface that guides me to complete my profile setup.
- **Document Submission:**
  - If required, I am prompted to submit a clear image of my National Identification (NID) card during profile setup. This step is mandatory for identity verification.
  - Vehicle Ownership and Document Submission:
    - If I own a vehicle (bike or car), a pop-up question appears during profile setup: "Do you own a vehicle?" If my response is "Yes," I am prompted to specify whether I own a bike or a car. If my response is "No," I receive a message stating that I can update this information later.
    - Based on my selection, the system captures and stores my vehicle ownership preference.
    - I am guided through the process of submitting relevant documents for my specified vehicle type, such as a driving license, vehicle registration, and insurance. This step is optional and can be skipped if I do not own a vehicle.
  - During document submission, I can easily capture or select and upload images or documents directly from my device.
    - The Proyan system verifies the submitted documents for accuracy and authenticity. Clear instructions are provided for proper document submission.
    - If any of the submitted documents are unclear or incomplete, I receive a notification specifying the issue and providing guidance on how to resolve it.
- **Biometric Login Setup (Fingerprint):**
  - During the profile setup process, when I reach the Biometric Login setup section, I have the option to enable fingerprint recognition for secure and convenient access to my Proyan account. This option can be skipped if I do not choose to add a fingerprint login option.
  - If I choose to enable fingerprint recognition, The system ensures that my device supports fingerprint recognition and prompts me to set up a fingerprint if it's not already configured on my device.
  - If I choose to enable fingerprint recognition, the system guides me through the enrollment process.
    - I am prompted to place my finger (the one I intend to use for biometric login) on the device's fingerprint sensor.
    - The system captures multiple samples of my fingerprint to create a reliable fingerprint template.
    - The system provides clear instructions on how to position and lift my finger during the registration process for accurate results.
    - After registering my fingerprint, the system prompts me to verify the registered fingerprint by placing it on the sensor again.
    - If the verification fails, the system provides guidance on repositioning my finger for a successful verification.

    - The system ensures that my registered fingerprint data is securely stored on my device and is not accessible to anyone else.
    - The fingerprint data is never transmitted to or stored on Proyan servers for added security.
    - The system respects my privacy and does not use my fingerprint data for any purpose other than user authentication.
    - Throughout the Biometric Login setup process, the system provides helpful tips and instructions to ensure a smooth and user-friendly experience.
    - I can enjoy the convenience of biometric login for quick and secure access to my Proyan account after successful setup.
    - Upon successful registration and verification of my fingerprint, the system confirms that fingerprint recognition has been enabled for my Proyan account.
    - Subsequently, when I attempt to log in to my Proyan account, I have the option to use my registered fingerprint for authentication.
    - I can choose the fingerprint login option instead of entering my username and password.
        - The system provides a fallback option (e.g., entering my username and password) in case the fingerprint sensor malfunctions or fails.
    - In my profile settings, I have the option to manage my biometric login preferences.
        - I can choose to disable fingerprint recognition at any time or re-register my fingerprint if needed.
        - If I choose to disable biometric login, I can rely on my username and password for authentication.
    - The system ensures that the fingerprint login process is highly secure and resistant to spoofing or unauthorized access attempts.
        - The system may prompt for an additional security measure (e.g., entering the Proyan PIN) after a certain number of unsuccessful fingerprint login attempts to prevent unauthorized access.
    - In case of any issues during the fingerprint registration or login process, the system provides clear and user-friendly error messages to guide me on how to proceed or resolve the issue.
- **Profile Picture (Optional):**
    - During profile setup, I have the option to upload a profile picture to personalize my Proyan account. This step is optional, and I can choose to skip it if I prefer.
    - If I choose to upload a profile picture, the system provides guidelines on acceptable image formats, sizes, and quality for a smooth uploading experience.
- **Address Input:**
    - I can input and verify my primary and other address during profile setup. This address will be used for various purposes within the Proyan platform.
    - I can save the address in different names like Home, Work and many others as I wish.
- **Payment Methods:**
    - During profile setup, I can add and manage my preferred payment methods. Proyan offers multiple options, including Bkash, Rocket, Upay, Nagad, and card payments.
    - I have the flexibility to add and verify multiple payment methods for convenience.
    - I can set a default payment method for quicker and more convenient transactions.
- **Profile Setup Guidance:**

    - The profile setup process provides step-by-step guidance with clear instructions for each section, ensuring a smooth user experience.
    - Tooltips and help icons are available to provide additional information and assistance as needed.
- **Error Handling:**
    - In case of any errors or issues during document submission, address input, or payment method addition, the system displays clear and specific error messages next to the relevant fields.
    - These error messages guide me on how to correct the information or resolve any issues encountered during setup.
- **Profile Setup Completion:**
    - Upon successfully completing the profile setup, I receive an on-screen confirmation message indicating that my profile setup is complete.
    - The confirmation message also provides instructions on how to proceed with using the Proyan platform.
- **Profile Setup Edit and Updates:**
    - I have the flexibility to revisit the User Profile at any time to edit or update my information. This includes adding or changing payment methods, updating my address, or re-submitting documents if needed.

Proyan_Login

As a registered user of Proyan App I want to access my Proyan account.

Acceptance Criteria for User Login:

- I open the Proyan app on my device.
- Upon opening the app, I am directed to the Login screen.

Login Options:

- **For First time after User Registration or After Re–installing the Proyan App:**
    - I see clear and prominent options for logging in, including:
        - Email & Password
            - After entering email and password I need to enter the code sent to my email.
        - Mobile Number & Password
            - After entering email and password I need to enter the OTP sent to my mobile number.
- **After First time Login:**
    - I see clear and prominent options for logging in, including:
        - Biometric login (if enabled during setup)
            - I can choose the biometric login option, which will prompt me to use my registered fingerprint (as per the Biometric Login setup) for authentication.
        - Proyan PIN login
            - After successfully logging in for the first time, I can use only the Proyan PIN
- **The system validates my provided login credentials as follows:**
    - For biometric login:
        - Validates my fingerprint against the registered fingerprint data.
    - For Proyan PIN login:
        - Verifies that the entered PIN matches the one set during first-time login.

- **Error Handling:**
    - If I fail to authenticate using biometrics or enter an incorrect Proyan PIN, the system should display clear and specific error messages.
    - The error messages should guide me on how to correct the information or suggest using alternative login methods.
- **Fallback to Phone Number and Password:**
    - In case the biometric login or Proyan PIN login fails (e.g., due to a malfunctioning sensor or incorrect PIN), I should have the option to fall back to Phone Number and password login.
        - After inputting the Phone Number and password, System will send an OTP and I need to input that OTP.
        - If I don't get the OTP there will be a prompt to use another method such as Email and Password to login.
- After successful login, the system manages my session securely, ensuring that my login remains active while I use the app.
- Throughout the login process, the system provides helpful tips and instructions to ensure a smooth and user-friendly experience.

Proyan_User Profile

As a Proyan user, I want a user-friendly and secure profile management system that allows me to customize my Proyan experience, maintain my personal information, manage my account settings, and access important features related to commuting. Here's how I envision my Proyan user profile management:

Acceptance Criteria for User Profile:

- **Accessing My Proyan User Profile:**
    - After logging in to the Proyan application, I want a clear and labeled option, such as "My Profile" or "Account," prominently displayed in the app's interface. This option serves as the gateway to my user profile.
    - When I tap on "My Profile" or a similar option, I expect to be directed to a comprehensive dashboard that provides access to various aspects of my Proyan profile.
- **Viewing and Editing Personal Information:**
    - Within my user profile, there should be an option labeled "View Profile." When I select this option, I want to access a dashboard where I can view and edit my personal information. This includes details such as my name, email address, phone number, and preferred addresses for commuting.
        - The editing process for my personal information should be intuitive and efficient, allowing me to make updates or corrections seamlessly.
    - Within the User profile I can also easily update or upload my documents for other features.
- **Changing Account Password:**
    - To enhance the security of my Proyan account, I should have an option within my user profile to change my account password. This process should incorporate robust security measures and require confirmation of my current password.

- **Managing Preferred Addresses:**
    - Within my user profile, there should be a separate section for maintaining a record of all preferred addresses relevant to commuting. From this section, I should be able to add new addresses or edit previous ones conveniently.
- **Customizing Notifications and Communication Preferences:**
    - I expect control over my notifications and communication preferences within my user profile. There should be an option labeled "Settings" that allows me to set my communication language preferences and opt in or out of various types of notifications, newsletters, and promotional offers related to commuting services.
- **Managing Payment Methods:**
    - My user profile should offer a secure space for managing and updating my saved payment methods. This should include options for payment services relevant to commuting, such as digital wallets or payment cards. This ensures a seamless and convenient payment process when using Proyan for commuting services.
- **Uploading and Changing Profile Picture:**
    - For personalization, I should be able to upload or change my profile picture within my user profile. Adding a visual touch to my account helps me feel more connected to the Proyan platform.
- **Access to Help and Support:**
    - In case I require assistance while using Proyan for commuting, within my user profile, there should be a prominent "Help Center" option that provides access to various subsections:
        - FAQs: Frequently asked questions about using Proyan for commuting.
        - Get Help with Commuting: Information on commuting-related queries.
        - Support Requests: The ability to initiate support requests or inquiries related to commuting.
        - Account Assistance: FAQs regarding my account settings for commuting.
- **Logout Option:**
    - When needed, I should have the option to log out of my Proyan account. This logout option should be visible and straightforward to access, whether within my user profile or the main menu.
- **Privacy Policy and Terms of Service:**
    - Within my user profile, I should find links to the privacy policy and terms of service relevant to using Proyan for commuting, allowing me to review them at any time. Transparency and trust are essential, and easy access to these documents helps ensure that.

Proyan_Move Easy

As a user of the "move easy" feature, I want to be able to select my desired destination, and I want the system to detect my current location, which should be editable.

Acceptance Criteria for Move Easy :

- Upon opening the "move easy" feature, there is a prominently displayed option for me to enter my desired destination. I can either type it in or choose from a list of popular destinations.
- The system automatically detects my current location using GPS or IP technology, and this detected location is presented as my starting point on the map.
    - I have the flexibility to manually edit the detected location in case it is inaccurate or if I wish to start from a different location.
- After confirming the starting point and destination it will show the estimated time for reaching the destination.
- The map view provides real-time traffic conditions, indicating traffic congestion and suggesting alternate routes when necessary.
- The system displays all available transportation options for the selected route, including public transport, Metro, CNG, biking, carpooling, walking, and more.
    - I can also select “private vehicle” as my transportation mode.
- The system calculates and displays the estimated fare for each transportation option and allows me to choose based on my preference and budget.
- I can view and select digital tickets or passes for public transportation directly within the app, streamlining the ticketing process.

If I choose "Public Transport" as my Transport mode:

- After selecting "Public Transport," the app should provide me with the following information:
    - The distance from my current location to the nearest public transport stop or station.
    - The recommended mode of getting to the stop or station, such as walking or using a rickshaw.
    - Estimated time to reach the stop/station using the recommended mode.
    - A list of all available buses along with:
        - Routes of each bus, including major stops.
        - Estimated arrival times of each bus.
        - The fare for the selected bus for my journey.
- I should have the option to select a specific bus from the list.
- When I choose a bus, the app should provide additional information:
    - A total cost estimation for my entire trip, including:
        - Cost to reach the public transport stop/station.
        - Cost of the selected bus journey.
        - Cost to reach my exact destination from the stop/station.
    - The option to book an electronic ticket (e-ticket) directly within the app.
- The e-ticketing service should include the following features:
    - Secure payment processing for purchasing tickets, supporting various payment methods.
    - An e-ticket that contains essential information, such as:
        - Journey details.

        - Seat or ticket number, if applicable.
    - The option to display the e-ticket on my device for easy validation when boarding the bus.
- After completing the bus journey and reaching the nearest public transport stop/station to my exact destination, the app should provide the following information:
    - Directions for reaching my exact destination from the stop/station, including walking routes or other available modes of transportation.
    - Estimated time to reach my exact destination.

If I choose "Metrorail" as my Transport mode:

- After selecting "Metrorail," the app should provide me with the following information:
    - The distance from my current location to the nearest metro station.
    - The recommended mode of getting to the metro station, such as walking or using a rickshaw.
    - Estimated time to reach the metro station using the recommended mode.
    - Details about the metro station, including its name and location.
    - Information on the metro schedule, including the next train's departure time and frequency.
    - The fare for the metro journey.
- When I decide to take the metro, the app should provide additional information:
    - The total cost estimation for my entire trip, including:
        - Cost to reach the metro station.
        - Cost of the metro journey.
        - Cost to reach my exact destination from the metro station.
    - Guidance on how to enter the metro station, including ticketing or card validation procedures.
    - Any available discounts or fare options, such as monthly passes.
- E-Ticket Purchase Option: To facilitate a contactless and convenient experience, the app should offer the option to purchase an E-Ticket for the metro journey:
    - Provide a button or link to access the E-Ticketing platform within the app.
    - Allow me to select my journey details, including the starting station and destination.
    - Display the fare for the selected journey and any available payment options.
    - Allow me to securely make the payment for the E-Ticket.
    - Once purchased, provide a digital E-Ticket within the app with a scannable QR code or barcode for validation.
- Monthly Pass Option: When purchasing an E-Ticket for the metro journey, the app should offer the option to buy a monthly pass:
    - Provide a clear choice to select a monthly pass option.
    - Display the cost and validity period of the monthly pass.
    - Allow me to confirm and purchase the monthly pass along with my journey E-Ticket.

    - If I purchase a monthly pass, the app should provide instructions on how to use it:
        - Clearly explain that the monthly pass is valid for unlimited metro journeys within its validity period.
        - When entering the metro station, I should be able to present my E-Ticket with the monthly pass QR code for scanning.
        - The system at the metro station should recognize my monthly pass and grant me access without additional fare deductions.
- After completing the metro journey and reaching the metro station nearest to my exact destination, the app should provide the following information:
    - Directions for reaching my exact destination from the metro station, including walking routes or other available modes of transportation.
    - Estimated time to reach my exact destination.

If I choose "Bike Ride or Carpool" as my Transport mode:

As a user of the "move easy" feature, I want to request a bike ride to my destination, similar to how I would request a ride on Uber, for a convenient and efficient commute.

❖ **Bike Ride:**

- Upon selecting "Bike Ride" as my preferred mode of transportation, I should be presented with a user-friendly interface:
    - A map displaying my current location and destination, with options to adjust the destination if needed.
    - An option to manually customize the route by adding intermediate stoppages or selecting specific routes.
    - A clear estimate of the fare for the selected route, including distance and expected duration.
- After reviewing the details, I should be able to proceed:
    - Confirm my booking by tapping a "Request Bike" button.
    - Immediately receive a notification with information about the assigned rider, including their name, photo, and bike details.
    - The map should display the real-time location of the assigned bike as it approaches my pickup point.
        - I should have the option to communicate with the driver via an in-app chat or call feature.
        - I can view the driver's progress and location in real-time.
    - Turn-by-turn navigation instructions should guide me and the driver to each stoppage and the final destination.
    - The app should display the estimated time of arrival (ETA) based on the chosen route.
- During the ride and upon completion:
    - After reaching my destination, I should be able to rate and review the bike ride experience, providing feedback for improvement.
    - Payment for the bike ride should be handled seamlessly within the app, with options for digital payment methods and ride receipts.

        - Fare breakdown should be detailed, including base fare, distance-based charges, time-based charges, and any additional charges (e.g., tolls).

❖ **Car Ride:**

As a user of the "move easy" feature, I want to request a car ride to my destination, for a comfortable and efficient commute.

- Upon selecting "Car Ride" as my preferred mode of transportation, I should encounter the following:
    - A map displaying my current location and destination, with options to adjust the destination if needed.
    - An option to manually customize the route by adding intermediate stoppages or selecting specific routes.
    - A clear estimate of the fare for the selected route, including distance and expected duration.
    - The option to enter the number of passengers for carpooling, if applicable.
- After reviewing the details, I should be able to proceed:
    - Confirm my booking by tapping a "Request Car" button.
    - Receive a notification with detailed information about the assigned driver, including their name, photo, and car details.
    - The map should display the real-time location of the assigned car as it approaches my pickup point.
        - I should have the option to communicate with the driver via an in-app chat or call feature
        - I can view the driver's progress and location in real-time.
    - Turn-by-turn navigation instructions should guide me and the driver to each stoppage and the final destination.
    - The app should display the estimated time of arrival (ETA) based on the chosen route.
- During the ride and upon completion:
    - After reaching my destination, I should be able to rate and review the car ride experience, providing feedback for improvement.
    - Payment for the car ride should be handled seamlessly within the app, with options for digital payment methods and ride receipts.
        - Fare breakdown should be detailed, including base fare, distance-based charges, time-based charges, and any additional charges (e.g., tolls).

❖ **Carpool:**

As a user of the "move easy" feature, when I select "Carpool" as my preferred mode of transportation for a journey, I want to share the ride with other passengers traveling in a similar direction, reducing transportation costs and promoting sustainability.

- Upon selecting "Carpool" as my preferred mode of transportation, I should encounter the following:

    - A map displaying my current location and destination, with options to adjust the destination if needed.
    - An option to manually customize the route by adding intermediate stoppages or selecting specific routes.
    - A clear estimate of the fare for the selected route, including distance and expected duration.
    - The ability to specify the number of passengers traveling with me during the carpool ride.
- After reviewing the details, I should be able to proceed:
    - Confirm my booking by tapping a "Request Carpool" button.
    - Receive a notification with detailed information about the assigned driver and other passengers, including their names, photos, and car details.
    - The map should display the real-time location of the assigned car as it approaches my pickup point.
        - I should have the option to communicate with the driver and other passengers via an in-app chat or call feature.
        - I can view the driver's progress and location in real-time.
    - Turn-by-turn navigation instructions should guide me and the driver to each stoppage and the final destination.
    - The app should display the estimated time of arrival (ETA) based on the chosen route.
- During the ride and upon completion:
    - After reaching my destination, I should be able to rate and review the carpool ride experience, providing feedback for improvement.
    - Payment for the carpool ride should be fairly distributed among passengers and handled seamlessly within the app, with options for digital payment methods and ride receipts.
        - Fare breakdown should be detailed, including individual passenger contributions and any additional charges (e.g., tolls).

If I choose "Private Vehicle" as my Transport mode:

As a user of the "move easy" feature, I want to have the flexibility to use my personal vehicle for commuting, with options to either follow the initial route suggested by Proyan, customize the route based on my preferences, or handle payments for tolls during my journey.

- Upon selecting "Personal Vehicle" as my preferred mode of transportation, I should encounter the following:
    - A map displaying my current location and destination, with the initial route suggested by Proyan clearly indicated.
    - An option to manually customize the route by adding or modifying waypoints for a personalized journey.
        - Receive real-time updates on how route customizations may affect the estimated time of arrival (ETA).
    - Clear information about any tolls or toll booths along the route.
    - An estimate of the toll charges based on the selected route.

- If my selected route includes tolls, I should be able to handle toll payments smoothly:
    - The app should clearly indicate the location of toll booths along the route.
    - I should have the option to pay toll charges electronically via the app.
    - The app should securely process toll payments using my preferred payment method (e.g., linked credit card or digital wallet).
    - After toll payment, the app should provide a digital receipt or confirmation of payment.
- Throughout the journey and upon reaching the destination:
    - The app should provide real-time navigation instructions, including turn-by-turn directions and ETAs.
    - I can choose to revisit and modify my route during the journey if necessary.
    - Upon completing the journey, I should have the option to provide feedback on the route suggestions and toll handling experience.
    - Any additional charges, such as tolls, should be clearly listed in the fare breakdown if applicable.

Proyan_Proyan Wallet

As a user of the "Proyan Wallet" feature, I want to manage my linked mobile financial services (MFS) providers and cards, set default payment methods, check account balances, and view my payment history organized by month to optimize my commuting costs and enjoy a secure and seamless payment experience.

Purpose of “Proyan Wallet”:

- Understanding that "Proyan Wallet" does not serve as a financial service provider, but rather as a gateway to MFS providers and card integration
- "Proyan Wallet" seamlessly integrates with popular mobile financial services providers in Bangladesh, empowering me to link my accounts and access a wide range of financial services.
- This versatile wallet can be utilized for various payment purposes throughout Proyan, including e-ticketing for public transport, metro, bike rides, car rides, and carpools, as well as toll payments, challan payments, vehicle tax payments, and license renewal payments.
- One of the benefits of using the "Proyan Wallet" is the seamless payment facilities it offers within the payment option prompts for any services I access through Proyan.
- While the "Proyan Wallet" itself is primarily focused on payment management, it enhances my overall Proyan experience by streamlining payments for various services, making them more accessible and convenient.

Acceptance Criteria for “Proyan Walet”:

- When I enter the "Proyan Wallet" feature, a prominently displayed option allows me to effectively manage my payment methods.
- Within this management interface, I find straightforward actions to link or unlink my various MFS providers, including popular ones such as Bkash, Rocket, Upay, and Nagad, alongside the management of cards.

- The system offers flexibility by allowing me to designate a default payment method, ensuring seamless and convenient transactions.
- During payment transactions, I appreciate the ability to spontaneously switch to an alternative payment method if I encounter a shortage of funds in my default choice.
- Within the comprehensive "Proyan Wallet," I seamlessly access a transparent overview of my available balance in each of the linked MFS providers.
    - The app provides a user-friendly and easily navigable interface that instantly displays my current account balances, which significantly contributes to informed and timely payment decisions.
- The "Proyan Wallet" boasts an intuitively designed module for accessing my payment history.
    - This module organizes my extensive transaction history with meticulous attention to detail, categorizing each entry by the month in which it occurred.
    - I enjoy the convenience of selecting a specific month, thereby initiating a comprehensive view of all transactions undertaken during that specific timeframe.
    - Transaction details are comprehensive, encompassing vital information such as the precise date, transaction time, transaction type, exact amount, payment method employed, and a brief but informative transaction description.
- The "Proyan Wallet" adds a layer of sophistication with advanced filtering and sorting options.
    - I exercise my ability to filter transactions based on multiple criteria, including but not limited to transaction type, preferred payment method, or origin and destination details, thereby creating a personalized and highly tailored view of my transaction history.
    - Sorting options are equally impressive, enabling me to arrange transactions chronologically in both ascending and descending orders, as well as by transaction amount for easy reference and analysis.
- The feature-rich "Proyan Wallet" caters to my desire for detailed financial insights.
    - It generously offers an export function, allowing me to transform my digital transaction history into a downloadable file format that suits my needs, be it CSV or PDF.
    - The exported file is meticulously crafted, containing an exhaustive array of transaction details for the chosen month, ensuring no valuable data is left behind.
    - Armed with my extensive payment history, I embark on the journey to optimize my commuting costs.
    - By conducting a thorough analysis of my transaction data, I gain valuable insights into my commuting expenses, enabling me to identify recurring patterns and make informed decisions that contribute to the optimization of my overall commuting costs.

    - My assessments extend beyond the mere examination of transportation modes, encompassing the evaluation of different payment methods to identify cost-effective alternatives.
- The "Proyan Wallet" features robust privacy and security measures that prioritize the safeguarding of my financial data.
    - Transaction details and payment history are securely stored within the confines of the app, ensuring exclusive access for me as the account holder.
    - The app adopts stringent measures to ensure that personal and sensitive information remains concealed within the payment history, thereby maintaining the highest standards of confidentiality.

Proyan_Personal Vehicle Management

As a user of the "Vehicle Maintain" feature within Proyan, I seek an all-encompassing platform that facilitates effective vehicle management, tracks expenses, streamlines government interactions, and ensures the secure handling of my data. This detailed user story outlines the multifaceted capabilities of this feature:

Acceptance Criteria for Vehicle Management:

Adding and Managing Vehicles:

- Upon accessing the "Vehicle Maintain" feature, I can add and manage multiple vehicles I own or operate. For each vehicle, I input essential details such as make, model, year, registration number, and VIN.
- The interface allows me to view a dashboard of all registered vehicles, offering an at-a-glance overview of their status.

Vehicle Maintenance:

- I can configure personalized scheduled maintenance alerts for each vehicle, specifying maintenance tasks such as oil changes, tire rotations, brake inspections, and more.
    - The system accommodates maintenance intervals based on factors like mileage, time duration, or specific dates.
    - The app proactively sends me notifications and reminders as scheduled maintenance dates approach.

- **Maintenance History and Records:**
    - Within the "Vehicle Maintain" feature, I maintain a comprehensive history of all services and repairs performed on my vehicles.
        - I can effortlessly add records of maintenance activities, specifying details like the date, type of service, service provider, costs, and any additional notes.
        - The app categorizes and organizes these records chronologically, providing me with a clear and accessible overview of my vehicle's maintenance history.
        - "Vehicle Maintain" recommends authorized and reliable service providers in my vicinity. I can view reviews, ratings, pricing

information, and contact details for these providers to make informed service decisions.
        - Additionally, the app may offer directions to recommended service centers for added convenience.
        - I can customize maintenance reminders for specific vehicle needs, including routine checks such as tire pressure, engine oil level, and air filter replacements.
            - These reminders contribute to proactive vehicle maintenance and safety.

.

- **Government Transactions and Document Management:**
    - Proyan assists in managing government-related tasks, including driving license renewal, vehicle tax payments, and traffic challan payments.
        - I receive notifications and reminders for driving license renewals, with the option to upload necessary documents and schedule in-person appointments when needed.
        - Reminders for vehicle tax payments are sent based on vehicle registration details. I can check tax status, make payments digitally, and set up auto-payments.
        - The "Document Management" feature securely stores and provides access to government documents, licenses, and tax receipts in digital format, reducing reliance on physical copies.
- **Cost Tracking and Analytics:**
    - The app empowers me to track and analyze costs associated with each activity for maintaining the vehicle (e.g. Maintenance related cost,Government Transactions etc), calculating and displaying the total expenditure on vehicle maintenance over time.
        - I access analytics and reports that provide insights into the most frequent maintenance tasks, average costs, and trends in vehicle upkeep
- **Government Forms and Applications:**
    - When required, I submit government forms and applications digitally through the app.
        - A library of government forms, including those for vehicle registration, tax exemptions, and permits, is available for selection.
        - I complete and submit these forms electronically, eliminating the need for manual paperwork.
        - The app keeps track of my submissions and provides updates on the status of my applications.
- **Receipts and Expense Tracking:**
    - The "Vehicle Maintain" feature includes a receipt management system that stores payment receipts for maintenance, tax payments, and challan payments.
        - I can access receipts for each transaction, organized by month, allowing me to review my vehicle-related expenses and optimize them.

- **Privacy and Data Security:**
    - Proyan prioritizes the privacy and security of my sensitive government-related documents and data.
        - All documents, transaction receipts, and records are encrypted and accessible only to me, ensuring data confidentiality.
- **Government Notifications and User-Friendly Interface:**
    - I receive important government notifications and updates within the Proyan app, keeping me informed about changes in regulations, policies, or procedures.
        - The user-friendly interface simplifies navigation for vehicle maintenance and government-related tasks, ensuring a smooth user experience.

Proyan_SOS

As a user of the "SOS" feature within Proyan, I want a comprehensive emergency assistance system that enables me to quickly seek help, alert designated emergency contacts, and locate nearby emergency services, including police stations and traffic booths, based on my current location during emergencies or urgent situations. This feature ensures my safety and provides peace of mind in times of need.

Acceptance Criteria for “Proyan SOS”:

- **Activating SOS Emergency Assistance:**
    - During an emergency or urgent situation, I activate the "SOS" feature within the Proyan app.
    - The app immediately responds to my distress signal, providing assistance options.
- **Alerting Emergency Contacts:**
    - The Proyan app allows me to designate up to three emergency contacts within my profile.
        - When I activate the SOS feature, the app sends automatic alerts and notifications to my designated emergency contacts, informing them of the ongoing emergency, even if they do not use the Proyan app.
        - The Proyan app shares my real-time location with my designated emergency contacts so that they can track my whereabouts during the emergency.
- **Accessing Nearby Emergency Services:**
    - The Proyan app utilizes my device's GPS or location services to pinpoint my current location accurately.
        - It provides me with a list of nearby police stations and traffic booths in proximity to my current location.

        - The list includes details such as the name, address, and contact information for each police station and traffic booth.
        - The Proyan app displays nearby police stations, allowing me to select a specific station from the list to view its location on a map and get directions.
        - In addition to police stations, the app also displays nearby traffic booths or checkpoints relevant to my current location.
            - I can choose a specific traffic booth from the list to view its location on a map and receive directions.
- **Map Integration:**
    - To make navigation to these emergency services more convenient, the Proyan app integrates with map services and provides real-time directions from my current location to the selected service.
- **Privacy and Security:**
    - The privacy and security of my location information are maintained during the use of this feature, with location data only being shared for the purpose of locating emergency services.
- **User-Friendly Interface:**
    - The interface for accessing nearby emergency services is designed to be user-friendly and straightforward, ensuring that I can quickly find the assistance I need during a crisis.

Proyan_Proyan Community

As a user of the "Proyan Community" feature within the Proyan app, I want to be part of a community where I can share and receive real-time traffic alerts, updates, and information relevant to my commute. This feature enables me to stay informed about traffic conditions, road closures, accidents, and other incidents, contributing to a smoother and safer travel experience.

Acceptance Criteria for Proyan Community:

- To access the "Proyan Community," I open the Proyan app and navigate to the community section.
- I can choose to join the community, which allows me to participate in discussions, share information, and receive real-time traffic alerts.
- **Posting Traffic Alerts and Updates:**
    - As a member of the Proyan Community, I have the ability to post traffic alerts, updates, and incidents that I come across during my commute.
        - I can provide details such as the location of the incident, the type of issue (e.g., accident, road closure, heavy traffic), and any additional relevant information.

        - Posting traffic updates is simple and user-friendly, encouraging active participation.
- **Receiving Real-Time Alerts and Information:**
    - Within the Proyan Community, I can opt to receive real-time alerts and information related to traffic and road conditions.
        - I receive notifications when other community members post alerts or updates, ensuring that I stay informed about the latest developments that may impact my commute.
- **Interacting with Community Members:**
    - The Proyan Community allows me to engage with other members through comments and discussions on traffic-related posts.
        - I can ask questions, seek advice, and provide additional information to help fellow commuters.
        - Discussions are organized by topics and locations, making it easy to find relevant information.
- **Filtering and Customization**:
    - To personalize my experience, I can filter traffic alerts and updates based on factors such as location, severity of the issue, and specific routes.
        - Customization options allow me to tailor the alerts I receive to match my commuting needs and preferences.
- **Community Moderation and Guidelines**
    - The Proyan Community is moderated to ensure the quality and accuracy of information shared.
        - Community guidelines promote respectful and helpful interactions among members.
- **Privacy and Data Security:**
    - My privacy and data security are prioritized within the Proyan Community.
        - Personal information is kept confidential, and location data is only shared in the context of traffic alerts and updates.
- **User-Friendly Interface:**
    - The interface of the Proyan Community is designed to be intuitive and user-friendly, facilitating easy navigation and interaction with other community members.

Proyan_Proyan Map

As a user of the Proyan app, I expect a comprehensive map experience that not only guides me from point A to B but also provides real-time traffic updates, customizable routes, and AI-driven enhancements from the Proyan Community. This integrated "Proyan Map" is designed to improve my commuting experience, making it more efficient, informed, and interactive.

Purpose of “Proyan Map”:

- Poryan Map will not be a separate option in the Proyan App. It will be integrated in the “Move Easy” and “SOS” features so that users can access the map as they need.

Acceptance Criteria for Proyan Map:

- **Accessing Proyan Map:**
  - Within the Proyan app, I seamlessly access the Proyan Map, primarily through the "Move Easy" and "SOS" features.
  - The map serves as an essential component of these features, offering valuable location-based information.
- **Real-Time Traffic Information:**
  - The Proyan Map integration utilizes Google APIs to display real-time traffic conditions on roads and highways.
    - I can easily distinguish between congested and smooth-flowing routes, allowing me to make informed decisions about my commute.
    - Different traffic colors (e.g., red for heavy congestion, yellow for moderate traffic) provide a quick overview of road conditions.
- **Basic Route Guidance:**
  - The Proyan Map offers basic route guidance, helping me navigate from my current location to my chosen destination.
    - I can enter my destination within the "Move Easy" feature, and the map provides a suggested route.
    - Turn-by-turn directions and estimated travel times are available, aiding me in reaching my destination efficiently.
- **Customizable Routes and Stoppage Addition:**
  - For enhanced flexibility, I can customize my route within the Proyan Map.
    - I have the option to add intermediate stoppages and checkpoints along my journey.
    - Customizations can be made to optimize my route based on preferences, such as avoiding tolls, highways, or congested areas.
- **Integration with "Move Easy" Feature:**
  - The Proyan Map seamlessly integrates with the "Move Easy" feature.
    - When planning a journey, the map provides additional details on routes, traffic, and waypoints.
    - It enhances the "Move Easy" experience by offering a visual representation of the commute.
- **Integration with "SOS" Feature:**

    - In the event of an emergency, the Proyan Map is accessible from the "SOS" feature.
        - It assists in identifying nearby police stations, traffic booths, and emergency services based on my current location.
        - The map facilitates quick decision-making and navigation during emergencies.
- **AI-Enhanced Real-Time Traffic Updates:**
    - The Proyan Map actively incorporates AI-driven real-time traffic updates from the Proyan Community.
        - These updates are crowd-sourced from users who report road conditions, congestion, and incidents.
        - The contributions in the Proyan Community become part of the AI-driven traffic data, benefiting other users on the platform.
        - The Proyan Map AI analyzes the real-time traffic updates and my chosen route.
        - It provides alternative route recommendations to avoid congested areas or incidents reported by the community.
        - These recommendations optimize my commute and reduce travel time**.**
- **Privacy and Data Security:**
    - Privacy and data security are paramount within the Proyan Map integration.
- Location data is used solely for commuting purposes and emergency assistance, ensuring the confidentiality of user data.